# DECLARATION OF PROTECTIVE COVENANTS AND RESTRICTIONS FOR WALDEN'S REVISITED

The recording of this instrument in the office of the county recorder of Delaware County, in which the subject property is situated, is constructive notice of the instrument to all persons, including without limitation, a subsequent purchaser in good faith or any other subsequent holder of an interest in the property. O.R.C. 5301.01

The Declarations that follows are intended to run with the land and applies to all of the lots listed below and whose Deed Recordings are listed in Exhibits A,B & C.

Exhibit A is an aerial photograph with a diagram of the 26 lots contained in Walden's Revisited.

Exhibit B is an aerial photograph with diagrams of the 26 lots and the permanent easements of the common areas.

Exhibit C are the County printouts showing the Instrument numbers and the Volume/page numbers.

# DECLARATION OF PROTECTIVE COVENANTS AND RESTRICTIONS FOR WALDEN'S REVISITED

THIS DECLARATION is made as of the 17th day of March, 2014 by Declarant James B. Blumenstiel, regarding the property of Walden's Revisited held by Equity Trust in an IRA land owning trust account FBO Atty. James B. Blumenstiel. The Declarant lists the following conditions:

A. Declarant, James B. Blumenstiel, through the above named IRA Trust, is the owner of the real property described in Exhibit A, (an aerial photograph with property parcel lines superimposed) attached hereto, which aerial photograph diagrams the 26 lots contained in Walden's Revisited.

B. Declarant submits all of the real property described and diagramed in Exhibit A., to the provisions of this Declaration.

JB BLUMENSTIEL
4242 TULLER RD
DUBLIN, OH 43017

Doc ID: 010807120032 Type: OFF
Kind: DEED RESTRI
Recorded: 08/24/2015 at 04:03:48 PM
Fee Amt: $288.00 Page 1 of 32
Workflow# 0000101913-0001
Delaware County, OH
Melissa Jordan County Recorder
File# 2015-00024415
BK 1372 PG 1033-1064

C. After a minimum of six house are built and occupied, Declarant requires said owners to form a Community Association for purposes of maintaining and administering the community common properties and facilities and to enforce the covenants and restrictions as well as collecting and disbursing the assessments and charges necessary for the maintenance and administering of said common property encompassed in the permanent easements set out in this documents. Until there are 6 occupied houses, the duties set out above, will be handled by Declarant, and the Architectural Review Committee described below. Said permanent easements define the parameters of the Common Areas for use by all residents and are outlined in blue in the attached aerial view. Exhibit B.

D. Declarant hereby creates an Architectural Review Committee (consisting of Declarant, James Blumenstiel, Lisa Falvo, Lois Blumenstiel and others if selected) for the purpose of supervising the physical and architectural development of the community of 26 building lots.

NOW, THEREFORE, Declarant states that the real property described herein, is and shall be held, transferred, sold, conveyed and occupied subject to the covenants, restrictions, easements, charges and liens (sometimes referred to as "Covenanats and Restrictions") hereinafter set forth.

SECTION 1. DEFINITIONS

1.1 ARCHITECTURAL REVIEW COMMITTEE: The individuals named above shall review and approve all development, construction, landscaping and site plans involving construction in accordance with the terms of this Declaration.

1.2 "Community Association" shall mean and refer to the group of owner occupiers of the 26 lots that oversees and operates WALDEN'S REVISITED.

1.3 Declarant, James B. Blumenstiel is the owner and beneficiary of the IRA Trust held by Equity Trust FBO James B. Blumenstiel.

1.4 Declaration are the Protective Covenants, permanent easements, common areas, building restrictions and community guidelines to be followed by all of the owner occupiers of Walden's Revisited.

1.5 Walden's Revisited consists of 26 lots as described in Exihibit A, B & C.

1.6 IMPROVEMENTS will include all houses with attached garages, outbuildings , utilities(above or below ground), other construction, landscaping and shall be subject to the Architectural Review Committee's review and approval.

1.7 Owner is any party holding fee simple title of record to any lot.

1.8 Property is all of the real property described in Exhibit A, B & C showing the 26 lots of Walden's Revisited.

1.9 Protective Covenants: The covenants, conditions, restrictions, easements and reservations stated in the Declarations, as amended from time to time.

1.10 Amendments to these declarations can only be accomplished by a 2/3rds vote of the existing land owners and occupiers when 6 or more of the lots have homes constructed upon said lots and occupied.

SECTION 2. PURPOSES

The protective Covenants and Restrictions are declared to be in furtherance of the following purposes:

a. The compliance with all zoning and similar governmental regulations.
b. The promotions of community life and the enjoyment of nature and neighbors.
c. The preservation of permanent easements for the use by all residents in the enjoyment of the beauty of nature and the companionship of good neighbors.
d. The establishment of requirements for the development of the Property relating to land use, architectural features, site planning and the preservation of all common areas preserved by the permanent easement for the mutual enjoyment of all the home owners of Walden's Revisited.

SECTION 3. PERMITTED IMPROVEMENTS

3. 1 All property and any parcels shall be used exclusively for single – family private dwelling house purposes. No residence more than two stories in height at the front elevation shall be erected, placed, or permitted to remain upon any parcel. No more than one residence shall be erected, placed or permitted to remain on any parcel.

3. 2 Only, single-family private dwelling houses may be erected upon any parcel and shall have only attached garages. Other outbuildings must match the general décor of the house and is subject to the Architectural Review Committee's approval. Each home erected, upon any parcel shall contain a finished area of not less than 1750 $ft.^2$ for a single-story home, or 2250 $ft.^2$ for a two story home, exclusive of attached garages and open porches.

3.3 No structure or other above ground improvement other than driveways, walkways and sidewalks shall be erected, placed, or permitted to remain on any parcel of land designated as a common area which is reserved as a permanent easement on the property.

3.4 While any resident is entitled to bring a canoe, kayak, raft or other such floating devices to use on the large pond; only the community association's paddleboat may be left there overnight. Fishing, swimming, boating and skating on any of the ponds is permitted for the residents and invited guests.

3.5 No structure, other than driveways, walkways and sidewalks shall be erected, placed or permitted to remain on any Parcel that does not comply with Scioto Township setback regulations. When one or more parcels are joined for the building of a single residence the side lot lines shall refer only to the lot lines bordering the adjoining property owners. The Architectural Review Committee shall have the right to permit reasonable modifications of the setback requirements, where in the discretion of the Committee strict enforcement of the setback provisions would work a hardship.

SECTION 4. ARCHITECTURAL CONTROL

4.1 Immediately after the recording of this Declaration, Declarant shall appoint the Architectural Review Committee, which shall consist of Lois Blumenstiel, Lisa Falvo, James B. Blumenstiel, and whoever they, in their sole discretion, shall appoint to the Architectural Review Committee at this or any future time.

4.2 So long as Declarant owns one or more lots, Declarant shall have the right to appoint all members of the Architectural Review Committee. After Declarant no longer owns any Parcels, the Owners shall have the right to select members of the Committee by a simple majority vote of all Owners.

4.3 Before any Owner may start or permit the construction of any house and improvement, the Owner shall first submit to the Architectural Review Committee for approval and complete set of building plans for the proposed construction or installation and the Architectural Review Committee shall approve, reject or modify the plans in a written statement sent to the Owner not more than 30 days after the submission to the Committee. The Committee shall not unreasonably withhold approval of any plans that conform in every way with this Declaration and with the general character of the Development on neighboring Parcels within the property. If the Committee fails to approve, disapprove or modify the plans within 30 day period, the Committee's approval shall be deemed as given and no further permission shall be needed.

4.4 Six stalls are available to rent from Brad and Jean Smart who live at 541 Brindle Rd. Stables shall be permitted only on parcels exceeding 3 acres in size. No livestock of any other nature, other than horses, can be stabled on any Parcel. A paddock must also be built allowing at least one half acre per horse and the fencing must comport with the Architectural Review Committees design approval.

4.5 Any swimming pools constructed on a Parcel shall be in ground and no above ground pools are permitted.

4.6 All propane tanks must be below ground.

SECTION 5. PERMITTED USES

5.1 Nothing shall be done or placed or permitted to remain on any Parcel which is unlawful or hazardous or which may endanger the health or unreasonably disturb the quiet occupancy of any persons residing on any other Parcel.

5.2 All trash, garbage or other rubbish shall be deposited only in covered sanitary containers screened from view.

5.3 Any satellite dishes shall not exceed 2 feet in diameter.

5.4 No hunting shall be permitted on the Property and there shall be no discharge of firearms on the Property.

SECTION 6. MAINTENANCE AND ASSESSMENTS

6.1 All Parcels and all Improvements placed on the Parcel shall at all times be maintained in good condition and repair.

6.2 Each Owner, by acceptance of a deed, shall be deemed to covenant and agree to pay to the Association (1) annual assessments or charges; and (2) special assessments for capital improvements; and special assessments for other necessary expenditures as the Association deems appropriate. Said failure to make said payments shall be a charge on the land and a continuing lien perpetually upon the property.

6.3 The Assessments shall be used exclusively for the purpose of promoting the general welfare, security and health of the residents of the existing Properties and those things that are related to the use and enjoyment of the Common Properties.

6.4 The basic annual assessment per parcel shall be $150.00 and shall be increased each year by the same percentage that the National Consumer Price Index has increases each year. The Committee Association may, by vote, increase the annual fee based on community needs.

SECTION 7. EASEMENTS RESERVED ACROSS PARCELS

7.1 Permanent easements across various Parcels will run with the land and are for the common use of all residents and their invited guests as per Exhibit B. No building or structure of any kind may be built upon said easements other than the driveways that cross over common areas and/or provide access for all residents to the Common Areas.

7.2 Every resident shall have a right and easement for the enjoyment and use of the Common Properties and such easement shall be appurtenant to and shall pass with the title to every Parcel.

7.3 The easements and rights granted and/or reserved in this Declaration are easements appurtenant, running with the land, which comprises a part of the Property, perpetually in force and effect.

SECTION 8. ENFORCEMENT AND REMEDIES FOR BREACH OF PROTECTIVE COVENANTS AND RESTRICTIONS

8.1 Declarant, the Architectural Review Committee, the Community Association and/or any Owner shall have the right to enforce the Protective Covenants and Restrictions by law or in equity. This right of enforcement shall include the right to recover damages and/or to seek injunctive relief.

SECTION 9. AMENDMENTS TO DECLARATION

9.1 The Declaration or any provision contained herein may be amended by recording the desired amendments, executed by not less than 75% of all of the Owners, and if Declarant still owns one or more Parcels, executed also by Declarant.

SECTION 10. DURATION

10.1 All of the Covenants and Restrictions shall run with the land, which is part of the Property, known as Walden's Revisited, and shall be binding upon and inure to the benefit of Declarant, all Owners, and their respective successors in interest.

10.2 This Declaration may be terminated at any time with respect to all of the Property by recording a written instrument providing for such termination executed by not less than 80% of the owners and, if Declarant then owns one or more Parcels, it shall also require the signature of the Declarant.

SECTION 11. ASSIGNMENT OF DECLARANT'S RIGHT AND DUTIES

11.1 Declarant may assign any and/or all of its rights, powers and reservations under this Declaration to any other party who will assume the duties of Declarant. Such assignment of rights, powers and/or reservations shall be set forth in writing, and such written instrument shall be recorded.

11.2 If at any time the Declarant ceases to exist without having made an assignment, a successor Declarant may be appointed by the written consent of not less than 75% of the other owners.

SECTION 12. COMMUNITY ASSOCIATION

12.1 Every person or entity who was a record owner of a fee simple interest in any lot shall be a member of the Association and shall have voting rights.

12.2 In addition to the annual assessments, the Association may levy additional assessments for the purpose of defraying the cost of any construction or reconstruction, repair or replacement of any improvement upon the Common area and all related appurtenance, provided any such assessment shall have the assent of two thirds of the votes of each resident who is entitled to vote.

12.3 The assessment funds may be used for payment of labor, services and materials needed to maintain the landscape and plant trees, and otherwise maintain the common areas.

DECLARANT, JAMES B. BLUMENSTIEL, DATE: 3/17/14

OWNER OF THE EQUITY TRUST IRA TRUST ACCOUNT HOLDING
SAID PROPERTY FBO JAMES B. BLUMENSTIEL

This Declaration attaches to and run with the property lots described hereafter and which are further identified in Attachments A, B & C'

**PARCEL NUMBER.....Instrument Number.....Volume/Page**

| | | |
|---|---|---|
| 20040001061012 | 2011-00008733 | 1036/379 |
| 20040001061011 | 2011-00008734 | 1036/382 |
| 20040001061010 | 2011-00008735 | 1036/385 |
| 20040001061009 | 2011-00008736 | 1036/388 |
| 20040001061008 | 2011-00008737 | 1036/391 |
| 20040001061007 | 2011-00008738 | 1036/394 |
| 20040001061006 | 2011-00008739 | 1036/397 |
| 20040001061005 | 2011-00008740 | 1036/400 |
| 20040001061003 | 2011-00008741 | 1036/403 |
| 20040001061002 | 2011-00008742 | 1036/406 |
| 20040001061000 | 2011-00008743 | 1036/409 |
| 20040001061015 | 2014-00024953 | 1311/57 |
| 20040002003003 | 2014-00024954 | 1311/60 |
| 20040002003001 | 2014-00024955 | 1311/63 |
| 20040001061016 | 2014-00024956 | 1311/66 |
| 20040001061014 | 2014-00024957 | 1311/69 |
| 2004000106????? | 2014-00024958 | 1311/72 |
| 20040002003002 | 2014-00024959 | 1311/75 |
| 20040002003007 | 2014-00025666 | 1312/690 |
| 20040002003006 | 2014-00025667 | 1312/693 |
| 20040002003008 | 2014-00025668 | 1312/696 |
| | 2014-00024952 | 1311/54 |

DECLARANT, JAMES B. BLUMENSTIEL, DATE: 3/17/14

OWNER OF THE EQUITY TRUST IRA TRUST ACCOUNT HOLDING
SAID PROPERTY FBO JAMES B. BLUMENSTIEL

EXHIBIT
A

EXHIBIT

A

View Images

Original Selection(s) | Next/Prev Book/Page | Next/Prev File Number | Related Records

| Index | Date Filed | Document Type | Grantors | Grantees | Remarks Not Warranted | Instrument Number | Volume/Page Ref | Amount | Images |
|---|---|---|---|---|---|---|---|---|---|
| 1 OFF | 03/21/2011 | DEED | HUHN RICHARD M, TRS [+] | EQUITY TRUST CO, CUSTODIAN | SCIOTO SURVEY NO 4267 LOT 10 [Parcel: 20040001061012] | 2011-00008733 [+] | 1036 / 379 | | 3 pages |

Jump to thumbnail

Print

✓1 of 3

2 of 3

3 of 3

VOL 1036 PAGE 0379

EXHIBIT C

2011000873

View Images

**Original Selection(s)** | Next/Prev Book/Page | Next/Prev File Number | Related Records

| Index | Date Filed | Document Type | Grantors | Grantees | Remarks Not Warranted | Instrument Number | Volume/Page Ref | Amount | Images |
|---|---|---|---|---|---|---|---|---|---|
| 1 OFF | 03/21/2011 | DEED | HUHN RICHARD[+] M, TRS | EQUITY TRUST CO, CUSTODIAN | SCIOTO SURVEY NO 4267 SUBLOT E LOT 10 [Parcel: 20040001061011] [+] | 2011-00008734 | 1036 / 382 | | 3 pages |

Jump to thumbnail

Print

✓1 of 3

2 of 3

3 of 3

VOL 1036 PAGE 0382

View Images

Original Selection(s) | Next/Prev Book/Page | Next/Prev File Number | Related Records

| Index | Date Filed | Document Type | Grantors | Grantees | Remarks Not Warranted | Instrument Number | Volume/Page Ref | Amount | Images |
|---|---|---|---|---|---|---|---|---|---|
| 1 OFF | 03/21/2011 | DEED | HUHN RICHARD[+] M, TRS | EQUITY TRUST CO, CUSTODIAN | SCIOTO SURVEY NO 4267 SUBLOT E LOT 10 [Parcel: 20040001061010] [+] | 2011-00008735 | 1036 / 385 | | 3 pages |

Jump to thumbnail

Print

1 of 3

2 of 3

3 of 3

VOL 1036 PAGE 0385

View Images

**Original Selection(s)** | Next/Prev Book/Page | Next/Prev File Number | Related Records

| Index | Date Filed | Document Type | Grantors | Grantees | Remarks Not Warranted | Instrument Number | Volume/Page Ref | Amount | Images |
|---|---|---|---|---|---|---|---|---|---|
| 1 OFF | 03/21/2011 | DEED | HUHN RICHARD M, TRS [+] | EQUITY TRUST CO, CUSTODIAN | SCIOTO SURVEY NO 4267 SUBLOT E LOT 10 [Parcel: 20040001061009] [+] | 2011-00008736 | 1036 / 388 | | 3 pages |

Jump to thumbnail

Print

✓1 of 3

2 of 3

3 of 3

VOL 1036 PAGE 0388

201100008736
Filed for Record in
DELAWARE COUNTY, OHIO
MELISSA JORDAN, RECORDER

View Images

**Original Selection(s)** | Next/Prev Book/Page | Next/Prev File Number | Related Records

| Index | Date Filed | Document Type | Grantors | Grantees | Remarks Not Warranted | Instrument Number | Volume/Page Ref | Amount | Images |
|---|---|---|---|---|---|---|---|---|---|
| 1 OFF | 03/21/2011 | DEED | HUHN RICHARD[+] M, TRS | EQUITY TRUST CO, CUSTODIAN | SCIOTO SURVEY NO 4267 SUBLOTS D & E LOT 10 [Parcel: 20040001061008] | 2011-00008737 [+] | 1036 / 391 | | 3 pages |

Jump to thumbnail

Print

✓1 of 3

2 of 3

3 of 3

VOL 1035 PAGE 0391

View Images

**Original Selection(s)** | Next/Prev Book/Page | Next/Prev File Number | Related Records

| | Index Date Filed | Document Type | Grantors | Grantees | Remarks Not Warranted | Instrument Number | Volume/Page Ref | Amount | Images |
|---|---|---|---|---|---|---|---|---|---|
| 1 | OFF 03/21/2011 | DEED | HUHN RICHARD M, TRS [+] | EQUITY TRUST CO, CUSTODIAN | SCIOTO SURVEY NO 4267 SUBLOTS D & E LOT 10 [Parcel: 20040001061007] [+] | 2011-00008738 | 1036 / 394 | | 3 pages |

Jump to thumbnail

Print

✓1 of 3

2 of 3

3 of 3

VOL 1036 PAGE 0394

View Images

**Original Selection(s)** | Next/Prev Book/Page | Next/Prev File Number | Related Records

| Index | Date Filed | Document Type | Grantors | Grantees | Remarks Not Warranted | Instrument Number | Volume/Page Ref | Amount | Images |
|---|---|---|---|---|---|---|---|---|---|
| 1 OFF | 03/21/2011 | DEED | HUHN RICHARD[+] M, TRS | EQUITY TRUST CO, CUSTODIAN | SCIOTO SURVEY NO 4267 SUBLOTS D & E LOT 10 [Parcel: 20040001061006] | 2011-00008739 [+] | 1036 / 397 | | 3 pages |

Jump to thumbnail

Print

✓1 of 3

2 of 3

3 of 3

VOL 1036 PAGE 0397

View Images

**Original Selection(s)** | Next/Prev Book/Page | Next/Prev File Number | Related Records

| ...dex | Date Filed | Document Type | Grantors | Grantees | Remarks Not Warranted | Instrument Number | Volume/Page Ref | Amount | Images |
|---|---|---|---|---|---|---|---|---|---|
| 1 OFF | 03/21/2011 | DEED | HUHN RICHARD[+] M, TRS | EQUITY TRUST CO, CUSTODIAN | SCIOTO SURVEY NO 4267 SUBLOTS D & E LOT 10 [Parcel: 20040001061005] [+] | 2011-00008740 | 1036 / 400 | | 3 pages |

Jump to thumbnail

Print

✓1 of 3

2 of 3

3 of 3

VOL 1036 PAGE 0400

View Images

**Original Selection(s)** I Next/Prev Book/Page I Next/Prev File Number I Related Records

| Index | Date Filed | Document Type | Grantors | Grantees | Remarks Not Warranted | Instrument Number | Volume/Page Ref | Amount | Images |
|---|---|---|---|---|---|---|---|---|---|
| 1 OFF | 03/21/2011 | DEED | HUHN RICHARD[+] M, TRS | EQUITY TRUST CO, CUSTODIAN | SCIOTO SURVEY NO 4267 SUBLOTS D & E LOT 10 [Parcel: 20040001061003] | 2011-00008741 [+] | 1036 / 403 | | 3 pages |

Jump to thumbnail

Print

✓1 of 3

2 of 3

3 of 3

VOL 1036 PAGE 0403

View Images

**Original Selection(s)** | Next/Prev Book/Page | Next/Prev File Number | Related Records

| Index | Date Filed | Document Type | Grantors | Grantees | Remarks Not Warranted | Instrument Number | Volume/Page Ref | Amount | Images |
|---|---|---|---|---|---|---|---|---|---|
| 1 OFF | 03/21/2011 | DEED | HUHN RICHARD[+] M, TRS | EQUITY TRUST CO, CUSTODIAN | SCIOTO SURVEY NO 4267 SUBLOTS D & E LOT 10 [Parcel: 20040001061002] | 2011-00008742 [+] | 1036 / 406 | | 3 pages |

Jump to thumbnail

Print

1 of 3

2 of 3

3 of 3

VOL 1036 PAGE 0406

View Images

**Original Selection(s)** | Next/Prev Book/Page | Next/Prev File Number | Related Records

| Index | Date Filed | Document Type | Grantors | Grantees | Remarks Not Warranted | Instrument Number | Volume/Page Ref | Amount | Images |
|---|---|---|---|---|---|---|---|---|---|
| 1 OFF | 03/21/2011 | DEED | HUHN RICHARD[+] M, TRS | EQUITY TRUST CO, CUSTODIAN | SCIOTO SURVEY NO 4267 SUBLOT G LOT 10 [Parcel: 20040001061000] [+] | 2011-00008743 | 1036 / 409 | | 3 pages |

Jump to thumbnail

Print

✓1 of 3

2 of 3

3 of 3

VOL 1036 PAGE 0409

View Images

**Original Selection(s)** | Next/Prev Book/Page | Next/Prev File Number | Related Records

| Index | Date Filed | Document Type | Grantors | Grantees | Remarks Not Warranted | Instrument Number | Volume/Page Ref | Amount | Images |
|---|---|---|---|---|---|---|---|---|---|
| 1 OFF | 10/01/2014 | DEED | BLUMENSTIEL, JAMES B TRS [+] | EQUITY TRUST CO CUSTODIAN | Survey #:4267 SCIOTO Lot:10 | 2014- [+] 00024952 | 1311 / 54 | | 3 pages |

Jump to thumbnail

Print

✓1 of 3

2 of 3

3 of 3

# QUITCLAIM DEED

Pursuant to Ohio Revised Code §5302.11

View Images

**Original Selection(s)** | Next/Prev Book/Page | Next/Prev File Number | Related Records

| Index | Date Filed | Document Type | Grantors | Grantees | Remarks Not Warranted | Instrument Number | Volume/Page Ref | Amount | Images |
|---|---|---|---|---|---|---|---|---|---|
| 1 OFF | 10/01/2014 | DEED | BLUMENSTIEL, JAMES B TRS [+] | EQUITY TRUST CO CUSTODIAN [+] | Survey #:4267 SCIOTO Lot:10 | 2014-00024953 | 1311 / 57 | | 3 pages |

Jump to thumbnail

Print

✓1 of 3

2 of 3

3 of 3

Doc ID: 010478310003 Type: OFF
Kind: DEED
Recorded: 10/01/2014 at 04:00:34 PM
Fee Amt: $36.00 Page 1 of 3
Workflow# 0000082794-0002
Delaware County, OH
Melissa Jordan County Recorder

View Images

**Original Selection(s)** | Next/Prev Book/Page | Next/Prev File Number | Related Records

| | Index | Date Filed | Document Type | Grantors | Grantees | Remarks Not Warranted | Instrument Number | Volume/Page Ref | Amount | Images |
|---|---|---|---|---|---|---|---|---|---|---|
| 1 | OFF | 10/01/2014 | DEED | BLUMENSTIEL, JAMES B TRS [+] | EQUITY TRUST CO CUSTODIAN | Survey #:5868 SCIOTO Lot:1 [+] | 2014-00024954 | 1311 / 60 | | 3 pages |

Jump to thumbnail

Print

✓1 of 3

2 of 3

3 of 3

Doc ID: 010478320003 Type: OFF
Kind: DEED
Recorded: 10/01/2014 at 04:00:34 PM
Fee Amt: $36.00 Page 1 of 3
Workflow# 0000082794-0003
Delaware County, OH
Melissa Jordan County Recorder

View Images

**Original Selection(s)** | Next/Prev Book/Page | Next/Prev File Number | Related Records

| Index | Date Filed | Document Type | Grantors | Grantees | Remarks Not Warranted | Instrument Number | Volume/Page Ref | Amount | Images |
|---|---|---|---|---|---|---|---|---|---|
| 1 OFF | 10/01/2014 | DEED | BLUMENSTIEL, JAMES B TRS [+] | EQUITY TRUST CO CUSTODIAN | Survey #:5868 SCIOTO Lot:1 [+] | 2014-00024955 | 1311 / 63 | | 3 pages |

Jump to thumbnail

Print

✓1 of 3

2 of 3

3 of 3

Doc ID: 010478330003 Type: OFF
Kind: DEED
Recorded: 10/01/2014 at 04:00:34 PM
Fee Amt: $36.00 Page 1 of 3
Workflow# 0000082794-0004
Delaware County, OH
Melissa Jordan County Recorder

View Images

**Original Selection(s)** | Next/Prev Book/Page | Next/Prev File Number | Related Records

| Index | Date Filed | Document Type | Grantors | Grantees | Remarks Not Warranted | Instrument Number | Volume/Page Ref | Amount | Images |
|---|---|---|---|---|---|---|---|---|---|
| 1 OFF | 10/01/2014 | DEED | BLUMENSTIEL, JAMES B TRS [+] | EQUITY TRUST CO CUSTODIAN [+] | Survey #:4267 SCIOTO Lot:10 | 2014-00024956 | 1311 / 66 | | 3 pages |

Jump to thumbnail

Print

✓1 of 3

2 of 3

3 of 3

Doc ID: 010478340003 Type: OFF
Kind: DEED
Recorded: 10/01/2014 at 04:00:34 PM
Fee Amt: $36.00 Page 1 of 3
Workflow# 0000082794-0005
Delaware County, OH
Melissa Jordan County Recorder

View Images

**Original Selection(s)** | Next/Prev Book/Page | Next/Prev File Number | Related Records

| Index | Date Filed | Document Type | Grantors | Grantees | Remarks Not Warranted | Instrument Number | Volume/Page Ref | Amount | Images |
|---|---|---|---|---|---|---|---|---|---|
| 1 OFF | 10/01/2014 | DEED | BLUMENSTIEL, JAMES B TRS [+] | EQUITY TRUST CO CUSTODIAN [+] | Survey #:4267 SCIOTO Lot:10 | 2014-00024957 | 1311 / 69 | | 3 pages |

Jump to thumbnail

Print

1 of 3

2 of 3

3 of 3

Doc ID: 010478350003 Type: OFF
Kind: DEED
Recorded: 10/01/2014 at 04:00:34 PM
Fee Amt: $36.00 Page 1 of 3
Workflow# 0000082794-0006
Delaware County, OH
Melissa Jordan County Recorder

View Images

**Original Selection(s)** | Next/Prev Book/Page | Next/Prev File Number | Related Records

| Index | Date Filed | Document Type | Grantors | Grantees | Remarks Not Warranted | Instrument Number | Volume/Page Ref | Amount | Images |
|---|---|---|---|---|---|---|---|---|---|
| 1 OFF | 10/01/2014 | DEED | BLUMENSTIEL, JAMES B TRS [+] | EQUITY TRUST CO CUSTODIAN | Survey #:5868 SCIOTO Lot:1 [+] | 2014-00024958 | 1311 / 72 | | 3 pages |

Jump to thumbnail

Print

✓1 of 3

2 of 3

3 of 3

Doc ID: 010478360003 Type: OFF
Kind: DEED
Recorded: 10/01/2014 at 04:00:34 PM
Fee Amt: $36.00 Page 1 of 3
Workflow# 0000082794-0007
Delaware County, OH
Melissa Jordan County Recorder

View Images

**Original Selection(s)** | Next/Prev Book/Page | Next/Prev File Number | Related Records

| Index | Date Filed | Document Type | Grantors | Grantees | Remarks Not Warranted | Instrument Number | Volume/Page Ref | Amount | Images |
|---|---|---|---|---|---|---|---|---|---|
| 1 OFF | 10/01/2014 | DEED | BLUMENSTIEL, JAMES B TRS [+] | EQUITY TRUST CO CUSTODIAN | Survey #:5868 SCIOTO Lot:1 [+] | 2014-00024959 | 1311 / 75 | | 3 pages |

Jump to thumbnail

Print

✓1 of 3

2 of 3

3 of 3

Doc ID: 010478370003 Type: OFF
Kind: DEED
Recorded: 10/01/2014 at 04:00:34 PM
Fee Amt: $36.00 Page 1 of 3
Workflow# 0000082794-0008
Delaware County, OH

View Images

**Original Selection(s)** | Next/Prev Book/Page | Next/Prev File Number | Related Records

| Index | Date Filed | Document Type | Grantors | Grantees | Remarks Not Warranted | Instrument Number | Volume/Page Ref | Amount | Images |
|---|---|---|---|---|---|---|---|---|---|
| 1 OFF | 10/09/2014 | DEED | BLUMENSTIEL, JAMES B TRS [+] | EQUITY TRUST CO CUSTODIAN | Survey #:5868 SCIOTO Lot:1 [+] | 2014-00025666 | 1312 / 690 | | 3 pages |

Jump to thumbnail

Print

✓1 of 3

2 of 3

3 of 3

Doc ID: 010485460003 Type: OFF
Kind: DEED
Recorded: 10/09/2014 at 08:24:00 AM
Fee Amt: $36.00 Page 1 of 3
Workflow# 0000083178-0001
Delaware County, OH
Melissa Jordan County Recorder

View Images

**Original Selection(s)** | Next/Prev Book/Page | Next/Prev File Number | Related Records

| Index | Date Filed | Document Type | Grantors | Grantees | Remarks Not Warranted | Instrument Number | Volume/Page Ref | Amount | Images |
|---|---|---|---|---|---|---|---|---|---|
| 1 OFF | 10/09/2014 | DEED | BLUMENSTIEL, JAMES B TRS [+] | EQUITY TRUST CO CUSTODIAN | Survey #:5868 SCIOTO Lot:1 [+] | 2014-00025667 | 1312 / 693 | | 3 pages |

Jump to thumbnail

Print

1 of 3

2 of 3

3 of 3

Doc ID: 010485470003 Type: OFF
Kind: DEED
Recorded: 10/09/2014 at 08:24:00 AM
Fee Amt: $36.00 Page 1 of 3
Workflow# 0000083178-0002
Delaware County, OH
Melissa Jordan County Recorder

View Images

**Original Selection(s)** | Next/Prev Book/Page | Next/Prev File Number | Related Records

| Index | Date Filed | Document Type | Grantors | Grantees | Remarks Not Warranted | Instrument Number | Volume/Page Ref | Amount | Images |
|---|---|---|---|---|---|---|---|---|---|
| 1 OFF | 10/09/2014 | DEED | BLUMENSTIEL, JAMES B TRS [+] | EQUITY TRUST CO CUSTODIAN | Survey #:5868 SCIOTO Lot:1 [+] | 2014-00025668 | 1312 / 696 | | 3 pages |

Jump to thumbnail

Print

1 of 3

2 of 3

3 of 3

Doc ID: 010485480003 Type: OFF
Kind: DEED
Recorded: 10/09/2014 at 08:24:00 AM
Fee Amt: $36.00 Page 1 of 3
Workflow# 0000083178-0003
Delaware County, OH
Melissa Jordan County Recorder

View Images

**Original Selection(s)** | Next/Prev Book/Page | Next/Prev File Number | Related Records

| Index | Date Filed | Document Type | Grantors | Grantees | Remarks Not Warranted | Instrument Number | Volume/Page Ref | Amount | Images |
|---|---|---|---|---|---|---|---|---|---|
| 1 OFF | 03/21/2011 | DEED | HUHN RICHARD[+] M, TRS | EQUITY TRUST CO, CUSTODIAN | SCIOTO SURVEY NO 4267 SUBLOT E LOT 10 [Parcel: 20040001061011] [+] | 2011-00008734 | 1036 / 382 | | 3 pages |

Jump to thumbnail

Print

✓1 of 3

2 of 3

3 of 3

VOL 1036 PAGE 0382

View Images

**Original Selection(s)** | Next/Prev Book/Page | Next/Prev File Number | Related Records

| | Index | Date Filed | Document Type | Grantors | Grantees | Remarks Not Warranted | Instrument Number | Volume/Page Ref | Amount | Images |
|---|---|---|---|---|---|---|---|---|---|---|
| 1 | OFF | 03/21/2011 | DEED | HUHN RICHARD[+] M, TRS | EQUITY TRUST CO, CUSTODIAN | SCIOTO SURVEY NO 4267 SUBLOT E LOT 10 [Parcel: 20040001061010] [+] | 2011-00008735 | 1036 / 385 | | 3 pages |

Jump to thumbnail

Print

✓1 of 3

2 of 3

3 of 3

VOL 1036 PAGE 0385

View Images

**Original Selection(s)** | Next/Prev Book/Page | Next/Prev File Number | Related Records

| Index | Date Filed | Document Type | Grantors | Grantees | Remarks Not Warranted | Instrument Number | Volume/Page Ref | Amount | Images |
|---|---|---|---|---|---|---|---|---|---|
| 1 OFF | 03/21/2011 | DEED | HUHN RICHARD[+] M, TRS | EQUITY TRUST CO, CUSTODIAN | SCIOTO SURVEY NO 4267 SUBLOT E LOT 10 [Parcel: 20040001061009] [+] | 2011-00008736 | 1036 / 388 | | 3 pages |

Jump to thumbnail

Print

✓1 of 3

2 of 3

3 of 3

VOL 1036 PAGE 0388

201100008736
Filed for Record in
DELAWARE COUNTY, OHIO
MELISSA JORDAN, RECORDER

View Images

**Original Selection(s)** | Next/Prev Book/Page | Next/Prev File Number | Related Records

| | Index | Date Filed | Document Type | Grantors | Grantees | Remarks Not Warranted | Instrument Number | Volume/Page Ref | Amount | Images |
|---|---|---|---|---|---|---|---|---|---|---|
| 1 | OFF | 03/21/2011 | DEED | HUHN RICHARD[+] M, TRS | EQUITY TRUST CO, CUSTODIAN | SCIOTO SURVEY NO 4267 SUBLOTS D & E LOT 10 [Parcel: 20040001061008] [+] | 2011-00008737 | 1036 / 391 | | 3 pages |

Jump to thumbnail

Print

✓1 of 3

2 of 3

3 of 3

VOL 1036 PAGE 0391

View Images

**Original Selection(s)** | Next/Prev Book/Page | Next/Prev File Number | Related Records

| | Index | Date Filed | Document Type | Grantors | Grantees | Remarks Not Warranted | Instrument Number | Volume/Page Ref | Amount | Images |
|---|---|---|---|---|---|---|---|---|---|---|
| 1 | OFF | 03/21/2011 | DEED | HUHN RICHARD M, TRS [+] | EQUITY TRUST CO, CUSTODIAN [+] | SCIOTO SURVEY NO 4267 SUBLOTS D & E LOT 10 [Parcel: 20040001061007] | 2011-00008738 | 1036 / 394 | | 3 pages |

Jump to thumbnail

Print

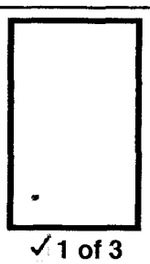

✓1 of 3



2 of 3



3 of 3

1036 PAGE 0394

View Images

**Original Selection(s)** | Next/Prev Book/Page | Next/Prev File Number | Related Records

| | Index | Date Filed | Document Type | Grantors | Grantees | Remarks Not Warranted | Instrument Number | Volume/Page Ref | Amount | Images |
|---|---|---|---|---|---|---|---|---|---|---|
| 1 | OFF | 03/21/2011 | DEED | HUHN RICHARD[+] M, TRS | EQUITY TRUST CO, CUSTODIAN | SCIOTO SURVEY NO 4267 SUBLOTS D & E LOT 10 [Parcel: 20040001061006] [+] | 2011-00008739 | 1036 / 397 | | 3 pages |

Jump to thumbnail

Print




VOL 1036 PAGE 0397

View Images

**Original Selection(s)** | Next/Prev Book/Page | Next/Prev File Number | Related Records

| ..dex | Date Filed | Document Type | Grantors | Grantees | Remarks Not Warranted | Instrument Number | Volume/Page Ref | Amount | Images |
|---|---|---|---|---|---|---|---|---|---|
| 1 OFF | 03/21/2011 | DEED | HUHN RICHARD[+] M, TRS | EQUITY TRUST CO, CUSTODIAN | SCIOTO SURVEY NO 4267 SUBLOTS D & E LOT 10 [Parcel: 20040001061005] [+] | 2011-00008740 | 1036 / 400 | | 3 pages |

Jump to thumbnail

Print

✓1 of 3

2 of 3

3 of 3

VOL 1036 PAGE 0400

View Images

**Original Selection(s)** | Next/Prev Book/Page | Next/Prev File Number | Related Records

| Index | Date Filed | Document Type | Grantors | Grantees | Remarks Not Warranted | Instrument Number | Volume/Page Ref | Amount | Images |
|---|---|---|---|---|---|---|---|---|---|
| 1 OFF | 03/21/2011 | DEED | HUHN RICHARD[+] M, TRS | EQUITY TRUST CO, CUSTODIAN | SCIOTO SURVEY NO 4267 SUBLOTS D & E LOT 10 [Parcel: 20040001061003] [+] | 2011-00008741 | 1036 / 403 | | 3 pages |

Jump to thumbnail

Print

✓1 of 3

2 of 3

3 of 3

VOL 1036 PAGE 0403

View Images

**Original Selection(s)** | Next/Prev Book/Page | Next/Prev File Number | Related Records

| Index | Date Filed | Document Type | Grantors | Grantees | Remarks Not Warranted | Instrument Number | Volume/Page Ref | Amount | Images |
|---|---|---|---|---|---|---|---|---|---|
| 1 OFF | 03/21/2011 | DEED | HUHN RICHARD[+] M, TRS | EQUITY TRUST CO, CUSTODIAN | SCIOTO SURVEY NO 4267 SUBLOTS D & E LOT 10 [Parcel: 20040001061002] [+] | 2011-00008742 | 1036 / 406 | | 3 pages |

Jump to thumbnail

Print

✓ 1 of 3

2 of 3

3 of 3

VOL 1036 PAGE 0406

View Images

**Original Selection(s)** | Next/Prev Book/Page | Next/Prev File Number | Related Records

| Index | Date Filed | Document Type | Grantors | Grantees | Remarks Not Warranted | Instrument Number | Volume/Page Ref | Amount | Images |
|---|---|---|---|---|---|---|---|---|---|
| 1 OFF | 03/21/2011 | DEED | HUHN RICHARD[+] M, TRS | EQUITY TRUST CO, CUSTODIAN | SCIOTO SURVEY NO 4267 SUBLOT G LOT 10 [Parcel: 20040001061000] [+] | 2011-00008743 | 1036 / 409 | | 3 pages |

Jump to thumbnail

Print

✓1 of 3

2 of 3

3 of 3

VOL 1036 PAGE 0409

View Images

**Original Selection(s)** | Next/Prev Book/Page | Next/Prev File Number | Related Records

| Index | Date Filed | Document Type | Grantors | Grantees | Remarks Not Warranted | Instrument Number | Volume/Page Ref | Amount | Images |
|---|---|---|---|---|---|---|---|---|---|
| 1 OFF | 10/01/2014 | DEED | BLUMENSTIEL, JAMES B TRS [+] | EQUITY TRUST CO CUSTODIAN | Survey #:4267 SCIOTO Lot:10 | 2014-00024952 [+] | 1311 / 54 | | 3 pages |

Jump to thumbnail

Print

✓1 of 3

2 of 3

3 of 3

# QUITCLAIM DEED

Pursuant to Ohio Revised Code §5302.11

View Images

**Original Selection(s)** | Next/Prev Book/Page | Next/Prev File Number | Related Records

| Index | Date Filed | Document Type | Grantors | Grantees | Remarks Not Warranted | Instrument Number | Volume/Page Ref | Amount | Images |
|---|---|---|---|---|---|---|---|---|---|
| 1 OFF | 10/01/2014 | DEED | BLUMENSTIEL, JAMES B TRS [+] | EQUITY TRUST CO CUSTODIAN [+] | Survey #:4267 SCIOTO Lot:10 | 2014-00024953 | 1311 / 57 | | 3 pages |

Jump to thumbnail

Print

✓ 1 of 3

2 of 3

3 of 3

Doc ID: 010478310003 Type: OFF
Kind: DEED
Recorded: 10/01/2014 at 04:00:34 PM
Fee Amt: $36.00 Page 1 of 3
Workflow# 0000082794-0002
Delaware County, OH
Melissa Jordan County Recorder

View Images

**Original Selection(s)** | Next/Prev Book/Page | Next/Prev File Number | Related Records

| | Index | Date Filed | Document Type | Grantors | Grantees | Remarks Not Warranted | Instrument Number | Volume/Page Ref | Amount | Images |
|---|---|---|---|---|---|---|---|---|---|---|
| 1 | OFF | 10/01/2014 | DEED | BLUMENSTIEL, JAMES B TRS [+] | EQUITY TRUST CO CUSTODIAN | Survey #:5868 SCIOTO Lot:1 [+] | 2014-00024954 | 1311 / 60 | | 3 pages |

Jump to thumbnail

Print

✓1 of 3

2 of 3

3 of 3

Doc ID: 010478320003 Type: OFF
Kind: DEED
Recorded: 10/01/2014 at 04:00:34 PM
Fee Amt: $36.00 Page 1 of 3
Workflow# 0000082794-0003
Delaware County, OH
Melissa Jordan County Recorder

View Images

**Original Selection(s)** | Next/Prev Book/Page | Next/Prev File Number | Related Records

| | Index | Date Filed | Document Type | Grantors | Grantees | Remarks Not Warranted | Instrument Number | Volume/Page Ref | Amount | Images |
|---|---|---|---|---|---|---|---|---|---|---|
| 1 | OFF | 10/01/2014 | DEED | BLUMENSTIEL, JAMES B TRS [+] | EQUITY TRUST CO CUSTODIAN | Survey #:5868 SCIOTO Lot:1 [+] | 2014-00024955 | 1311 / 63 | | 3 pages |

Jump to thumbnail

Print

✓ 1 of 3

2 of 3

3 of 3

Doc ID: 010478330003 Type: OFF
Kind: DEED
Recorded: 10/01/2014 at 04:00:34 PM
Fee Amt: $36.00 Page 1 of 3
Workflow# 0000082794-0004
Delaware County, OH
Melissa Jordan County Recorder

View Images

**Original Selection(s)** | Next/Prev Book/Page | Next/Prev File Number | Related Records

| | Index | Date Filed | Document Type | Grantors | Grantees | Remarks Not Warranted | Instrument Number | Volume/Page Ref | Amount | Images |
|---|---|---|---|---|---|---|---|---|---|---|
| 1 | **OFF** | 10/01/2014 | **DEED** | BLUMENSTIEL, JAMES B TRS [+] | EQUITY TRUST CO CUSTODIAN [+] | Survey #:4267 SCIOTO Lot:10 | 2014-00024956 | 1311 / 66 | | 3 pages |

Jump to thumbnail

Print



✓1 of 3

2 of 3



3 of 3

Doc ID: 010478340003 Type: OFF
Kind: DEED
Recorded: 10/01/2014 at 04:00:34 PM
Fee Amt: $36.00 Page 1 of 3
Workflow# 0000082794-0005
Delaware County, OH
Melissa Jordan County Recorder

View Images

**Original Selection(s)** | Next/Prev Book/Page | Next/Prev File Number | Related Records

| | Index | Date Filed | Document Type | Grantors | Grantees | Remarks Not Warranted | Instrument Number | Volume/Page Ref | Amount | Images |
|---|---|---|---|---|---|---|---|---|---|---|
| 1 | OFF | 10/01/2014 | DEED | BLUMENSTIEL, JAMES B TRS [+] | EQUITY TRUST CO CUSTODIAN [+] | Survey #:4267 SCIOTO Lot:10 | 2014-00024957 | 1311 / 69 | | 3 pages |

Jump to thumbnail

Print

✓1 of 3

2 of 3

3 of 3

Doc ID: 010478350003 Type: OFF
Kind: DEED
Recorded: 10/01/2014 at 04:00:34 PM
Fee Amt: $36.00 Page 1 of 3
Workflow# 0000082794-0006
Delaware County, OH
Melissa Jordan County Recorder

View Images

**Original Selection(s)** | Next/Prev Book/Page | Next/Prev File Number | Related Records

| | Index | Date Filed | Document Type | Grantors | Grantees | Remarks Not Warranted | Instrument Number | Volume/Page Ref | Amount | Images |
|---|---|---|---|---|---|---|---|---|---|---|
| 1 | OFF | 10/01/2014 | DEED | BLUMENSTIEL, JAMES B TRS [+] | EQUITY TRUST CO CUSTODIAN | Survey #:5868 SCIOTO Lot:1 [+] | 2014-00024958 | 1311 / 72 | | 3 pages |

Jump to thumbnail

Print

✓1 of 3

2 of 3

3 of 3

Doc ID: 010478360003 Type: OFF
Kind: DEED
Recorded: 10/01/2014 at 04:00:34 PM
Fee Amt: $36.00 Page 1 of 3
Workflow# 0000082794-0007
Delaware County, OH
Melissa Jordan County Recorder

View Images

**Original Selection(s)** | Next/Prev Book/Page | Next/Prev File Number | Related Records

| Index | Date Filed | Document Type | Grantors | Grantees | Remarks Not Warranted | Instrument Number | Volume/Page Ref | Amount | Images |
|---|---|---|---|---|---|---|---|---|---|
| 1 OFF | 10/01/2014 | DEED | BLUMENSTIEL, JAMES B TRS [+] | EQUITY TRUST CO CUSTODIAN | Survey #:5868 SCIOTO Lot:1 [+] | 2014-00024959 | 1311 / 75 | | 3 pages |

Jump to thumbnail

Print

✓1 of 3

2 of 3

3 of 3

Doc ID: 010478370003 Type: OFF
Kind: DEED
Recorded: 10/01/2014 at 04:00:34 PM
Fee Amt: $36.00 Page 1 of 3
Workflow# 0000082794-0008
Delaware County, OH

View Images

**Original Selection(s)** | Next/Prev Book/Page | Next/Prev File Number | Related Records

| Index | Date Filed | Document Type | Grantors | Grantees | Remarks Not Warranted | Instrument Number | Volume/Page Ref | Amount | Images |
|---|---|---|---|---|---|---|---|---|---|
| 1 OFF | 10/09/2014 | DEED | BLUMENSTIEL, JAMES B TRS [+] | EQUITY TRUST CO CUSTODIAN | Survey #:5868 SCIOTO Lot:1 [+] | 2014-00025666 | 1312 / 690 | | 3 pages |

Jump to thumbnail

Print

✓ 1 of 3

2 of 3

3 of 3

Doc ID: 010485460003 Type: OFF
Kind: DEED
Recorded: 10/09/2014 at 06:24:00 AM
Fee Amt: $36.00 Page 1 of 3
Workflow# 0000083178-0001
Delaware County, OH
Melissa Jordan County Recorder

View Images

**Original Selection(s)** | Next/Prev Book/Page | Next/Prev File Number | Related Records

| Index | Date Filed | Document Type | Grantors | Grantees | Remarks Not Warranted | Instrument Number | Volume/Page Ref | Amount | Images |
|---|---|---|---|---|---|---|---|---|---|
| 1 OFF | 10/09/2014 | DEED | BLUMENSTIEL, JAMES B TRS [+] | EQUITY TRUST CO CUSTODIAN | Survey #:5868 SCIOTO Lot:1 [+] | 2014-00025667 | 1312 / 693 | | 3 pages |

Jump to thumbnail

Print

✓1 of 3

2 of 3

3 of 3

Doc ID: 010485470003 Type: OFF
Kind: DEED
Recorded: 10/09/2014 at 08:24:00 AM
Fee Amt: $36.00 Page 1 of 3
Workflow# 0000083178-0002
Delaware County, OH
Melissa Jordan County Recorder

View Images

**Original Selection(s)** | Next/Prev Book/Page | Next/Prev File Number | Related Records

| Index | Date Filed | Document Type | Grantors | Grantees | Remarks Not Warranted | Instrument Number | Volume/Page Ref | Amount | Images |
|---|---|---|---|---|---|---|---|---|---|
| 1 OFF | 10/09/2014 | DEED | BLUMENSTIEL, JAMES B TRS [+] | EQUITY TRUST CO CUSTODIAN | Survey #:5868 SCIOTO Lot:1 [+] | 2014-00025668 | 1312 / 696 | | 3 pages |

Jump to thumbnail

Print

✓1 of 3

2 of 3

3 of 3

Doc ID: 010485480003 Type: OFF
Kind: DEED
Recorded: 10/09/2014 at 08:24:00 AM
Fee Amt: $36.00 Page 1 of 3
Workflow# 0000083178-0003
Delaware County, OH
Melissa Jordan County Recorder